LINESPLAN

SHEER PLAN

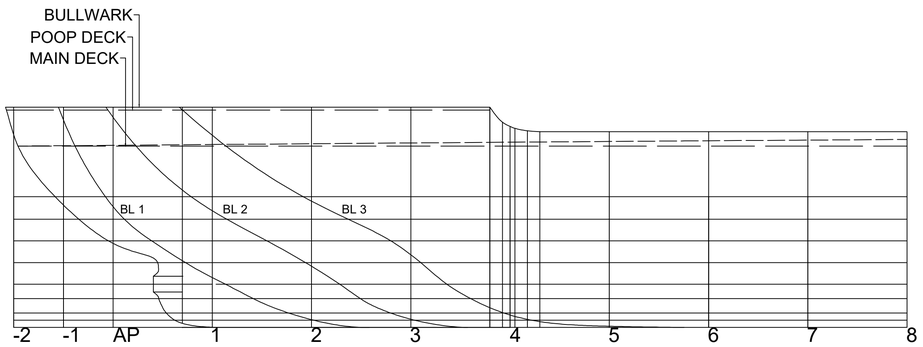

BODY PLAN

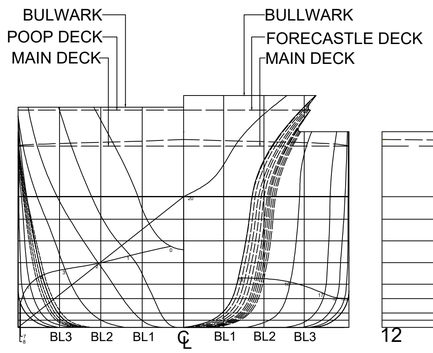

SHEER PLAN

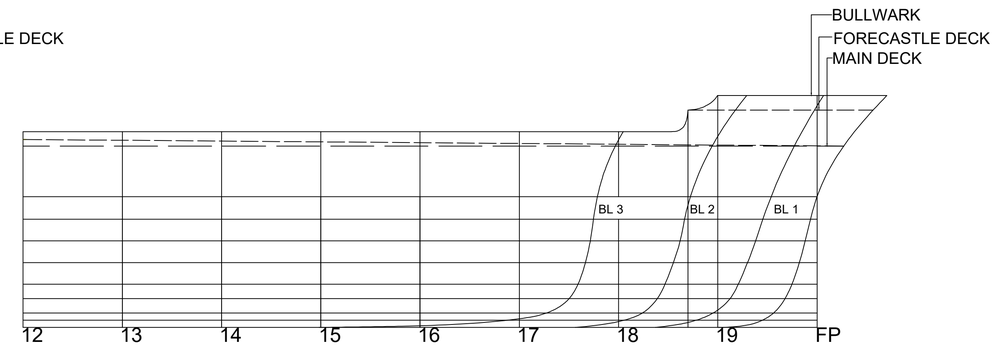

HALF BREADTH PLAN

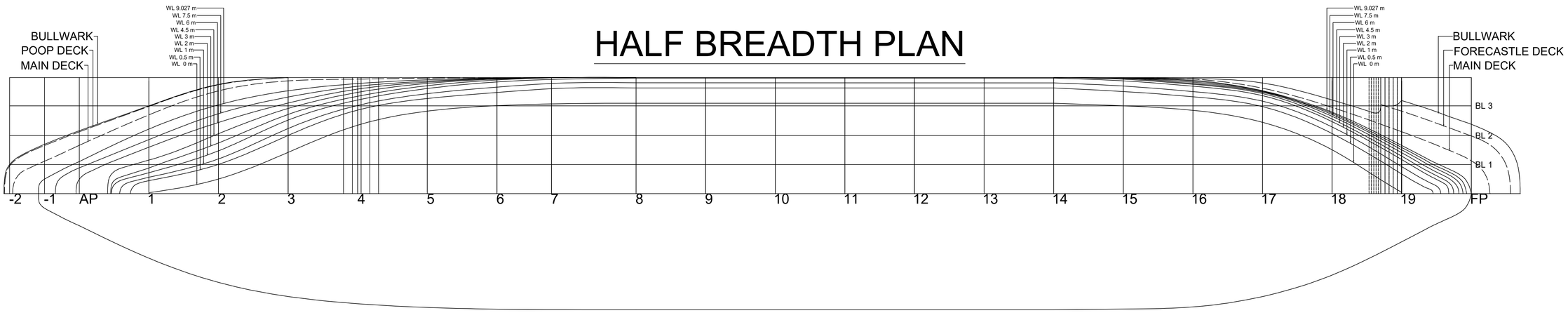

SENT LINE

PRINCIPAL DIMENSION	
LOA (m)	149.918
LPP (m)	137.634
T (m)	9.072
B (m)	22.939
H (m)	16.073
δ (Cb)	0.788
Vs	12.4 Knot
Type	Crude Oil Tanker

TABLE ORDINATE OF HALF BREADTH (M)

WL AND STATION	AP	1	2	3	4	5	6	7	8	9	10	11	12	13	14	15	16	17	18	19	FP
WL 0	-	-	1.4382	4.0800	6.7591	8.1477	8.6804	8.8909	8.9345	8.9345	8.9345	8.9345	8.9345	8.9345	8.9345	8.6731	8.2291	7.0447	4.3285	-	-
WI 0.5	-	1.2778	2.9030	5.7492	8.2520	9.3959	9.9926	10.4243	10.4399	10.4399	10.4399	10.4399	10.4399	10.4399	10.4399	10.0861	9.5711	8.5917	5.9339	1.9473	-
WL 1	-	1.6125	3.4308	6.4302	8.7102	9.8751	10.5249	10.9372	10.9519	10.9519	10.9519	10.9519	10.9519	10.9519	10.9519	10.6286	10.0782	9.1314	6.5879	2.6687	-
WL 2	-	2.0621	4.2299	7.2584	9.2493	10.3830	11.0323	11.3185	11.4124	11.4124	11.4124	11.4124	11.4124	11.4124	11.4124	11.1415	10.7987	9.6768	7.1109	3.3770	-
WL 3	-	2.5351	5.0049	7.8211	9.6198	10.6578	11.2245	11.4680	11.4695	11.4695	11.4695	11.4695	11.4695	11.4695	11.4695	11.3739	10.6112	9.8896	7.3739	3.7028	-
WL 4.5	-	3.3138	5.9125	8.4108	10.0020	10.8922	11.3046	11.4681	-	-	-	-	-	-	-	11.3921	10.8806	9.9984	7.6345	4.0403	-
WL 6	-	4.5922	7.0322	8.9491	10.3260	11.0150	11.3608	11.4684	-	-	-	-	-	-	-	11.3976	11.0007	10.0680	7.8102	4.3341	-
WL 7.5	2.5520	5.3321	7.8959	9.5879	10.6010	11.1121	11.4095	11.4686	-	-	-	-	-	-	-	11.4022	11.1095	10.1339	7.9393	4.5643	
WL 9.027	3.1682	6.3749	8.7667	10.1592	10.8732	11.2451	11.4159	11.4690	-	-	-	-	-	-	-	11.4096	11.1945	10.1663	8.0443	4.7613	
MAIN DECK	4.7766	7.7769	10.1471	11.1381	11.3113	11.4072	11.4505	-	-	-	-	-	-	-	-	11.4208	11.3131	10.4152	8.5224	6.1237	3.2509
FORECASTLE	-	-	-	-	-	-	-	-	-	-	-	-	-	-	-	-	-	-	-	8.1429	5.6961
POOP DECK	6.6145	8.6112	10.7508	11.4695	-	-	-	-	-	-	-	-	-	-	-	-	-	-	-	-	-
BULWALK	6.2222	8.6591	10.7898	11.4695	-	-	-	-	-	-	-	-	-	-	-	7.2800	11.3623	10.9295	9.2481	9.1914	6.8523

TABLE ORDINATE OF HEIGHT ABOVE BASELINE (M)

BL AND STATION	AP	1	2	3	4	5	6	7	8	9	10	11	12	13	14	15	16	17	18	19	FP
BL 1	8.3695	3.3317	0.5381	0	0	0	0	0	0	0	0	0	0	0	0	0	0	0	0	1.2047	15.3621
BL 2	14.5852	7.9512	4.2409	0.5686	0	0	0	0	0	0	0	0	0	0	0	0	0	0	0.4056	13.2585	-
BL 3	-	13.3166	8.6659	5.0469	0.7671	0	0	0	0	0	0	0	0	0	0	0	0.1179	0.6017	13.0090	-	-
MAIN DECK	12.5730	12.5730	12.5730	12.5730	12.5730	12.5730	12.5730	12.5730	12.5730	12.5730	12.5730	12.5730	12.5730	12.5730	12.5730	12.5730	12.5730	12.5730	12.5730	12.5730	12.5730
FORECASTLE	-	-	-	-	-	-	-	-	-	-	-	-	-	-	-	-	-	-	-	15.0730	15.0730
POOP DECK	15.0730	15.0730	15.0730	15.0730	-	-	-	-	-	-	-	-	-	-	-	-	-	-	-	-	-
BULWALK	15.2730	15.2730	15.2730	15.2730	13.9056	13.5730	13.5730	13.5730	13.5730	13.5730	13.5730	13.5730	13.5730	13.5730	13.5730	13.5730	13.5730	13.5730	13.5730	16.0730	16.0730

DEPARTEMEN TEKNIK SISTEM PERKAPALAN
FAKULTAS TEKNOLOGI KELAUTAN
INSTITUT TEKNOLOGI SEPULUH NOPEMBER

MT. RINEJI

LINES PLAN

Skala : 1 : 150	Tanda Tangan	Tanggal	Keterangan
Mahasiswa : Abraham K. M. Manulang			
Pembimbing :			
Koordinator :			
DWG. NO :			NRP : 04211941000050